Intro to Data Science - Lab 7

Copyright 2025, Jeffrey Stanton and Jeffrey Saltz Please do not post online.

Week 7 - Using ggplot to Build Complex Data Displays

```
# Enter your name here: Sofia Quintero
```

Please include nice comments.

Instructions:

Run the necessary code on your own instance of R-Studio.

Attribution statement: (choose only one and delete the rest)

```
# 1. I did this lab assignment by myself, with help from the book and the professor.
```

Geology rocks but geography is where it's at. . . (famous dad joke). In a global economy, geography has an important influence on everything from manufacturing to marketing to transportation. As a result, most data scientists will have to work with map data at some point in their careers.

An add-on to the **ggplot2** package, called **ggmap**, provides powerful tools for plotting and shading maps. Make sure to install the **maps**, **mapproj**, and **ggmap** packages before running the following:

```
install.packages('maps', repos = "http://cran.us.r-project.org")
```

```
##
## The downloaded binary packages are in
##  /var/folders/rm/s4vv52kd55g34xzsxxqn9p2c0000gn/T//RtmpF9GrJ0/downloaded_packages
```

```
install.packages('mapproj', repos = "http://cran.us.r-project.org")
```

```
##
## The downloaded binary packages are in
##  /var/folders/rm/s4vv52kd55g34xzsxxqn9p2c0000gn/T//RtmpF9GrJ0/downloaded_packages
```

```
install.packages('ggmap', repos = "http://cran.us.r-project.org")
```

```
##
## The downloaded binary packages are in
##  /var/folders/rm/s4vv52kd55g34xzsxxqn9p2c0000gn/T//RtmpF9GrJ0/downloaded_packages
```

```
library(ggplot2); library(maps); library(ggmap); library(mapproj)
us <- map_data("state")
us$state_name <- tolower(us$region)
map <- ggplot(us, aes(map_id= state_name))
```

```
map <- map + aes(x=long, y=lat, group=group) +
geom_polygon(fill = "white", color = "black")
map <- map + expand_limits(x=us$long, y=us$lat)
map <- map + coord_map() + ggtitle("USA Map")
map
```

1. Paste the code below and add a comment for each line, explaining what that line of code does.

```r
library(ggplot2); library(maps); library(ggmap); library(mapproj) #loads packages
```

```
## i Google's Terms of Service: <https://mapsplatform.google.com>
##   Stadia Maps' Terms of Service: <https://stadiamaps.com/terms-of-service/>
##   OpenStreetMap's Tile Usage Policy: <https://operations.osmfoundation.org/policies/tiles/>
## i Please cite ggmap if you use it! Use `citation("ggmap")` for details.
```

```r
us <- map_data("state") #converts map to data frame for plotting
#assigns converted data to variable 'us'
us$state_name <- tolower(us$region) #turns data in region to all lowercase
#assigns modified data to a new column
map <- ggplot(us, aes(map_id= state_name)) #defines how the map will be created
#and what regions are defined
map <- map + aes(x=long, y=lat, group=group) +
geom_polygon(fill = "white", color = "black") #defines variables needed for mapping
#as well as colors that will be used to create map
map <- map + expand_limits(x=us$long, y=us$lat) #expands limits to include all
map <- map + coord_map() + ggtitle("USA Map") #coord_map() projects projection of
#earh on a 2D plane and ggtitle() adds a title to the map
map #prints map
```

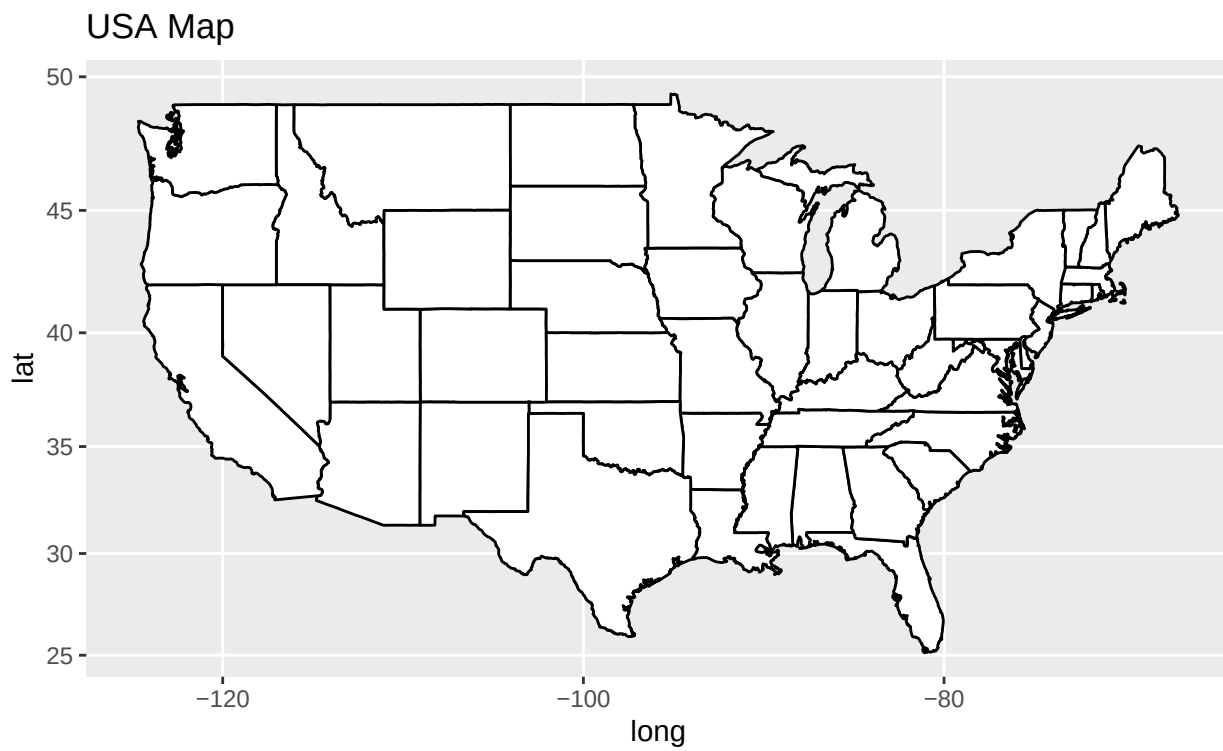

2. The map you just created fills in the area of each state in white while outlining it with a thin black line. Use the **fill=** and **color=** commands inside the call to **geom_polygon( )** to reverse the color scheme. Now paste and run the following code:

```
reverseMap <- map + geom_polygon(fill = "black", color = "white")
reverseMap
```

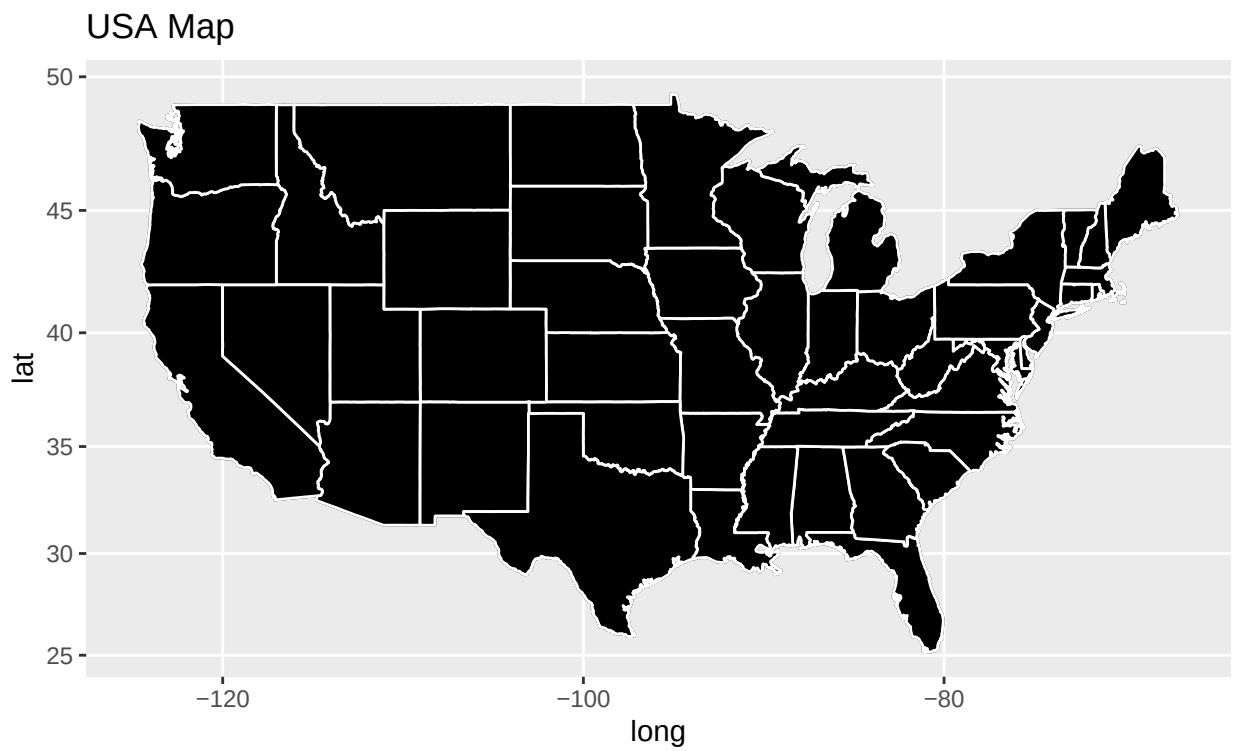


```
ny_counties <- map_data("county","new york")
ggplot(ny_counties) + aes(long,lat, group=group) + geom_polygon(fill
= "white", color = "black")
```


```
ny_counties <- map_data("county","new york")
ggplot(ny_counties) + aes(long,lat, group=group) + geom_polygon(fill
= "white", color = "black")
```

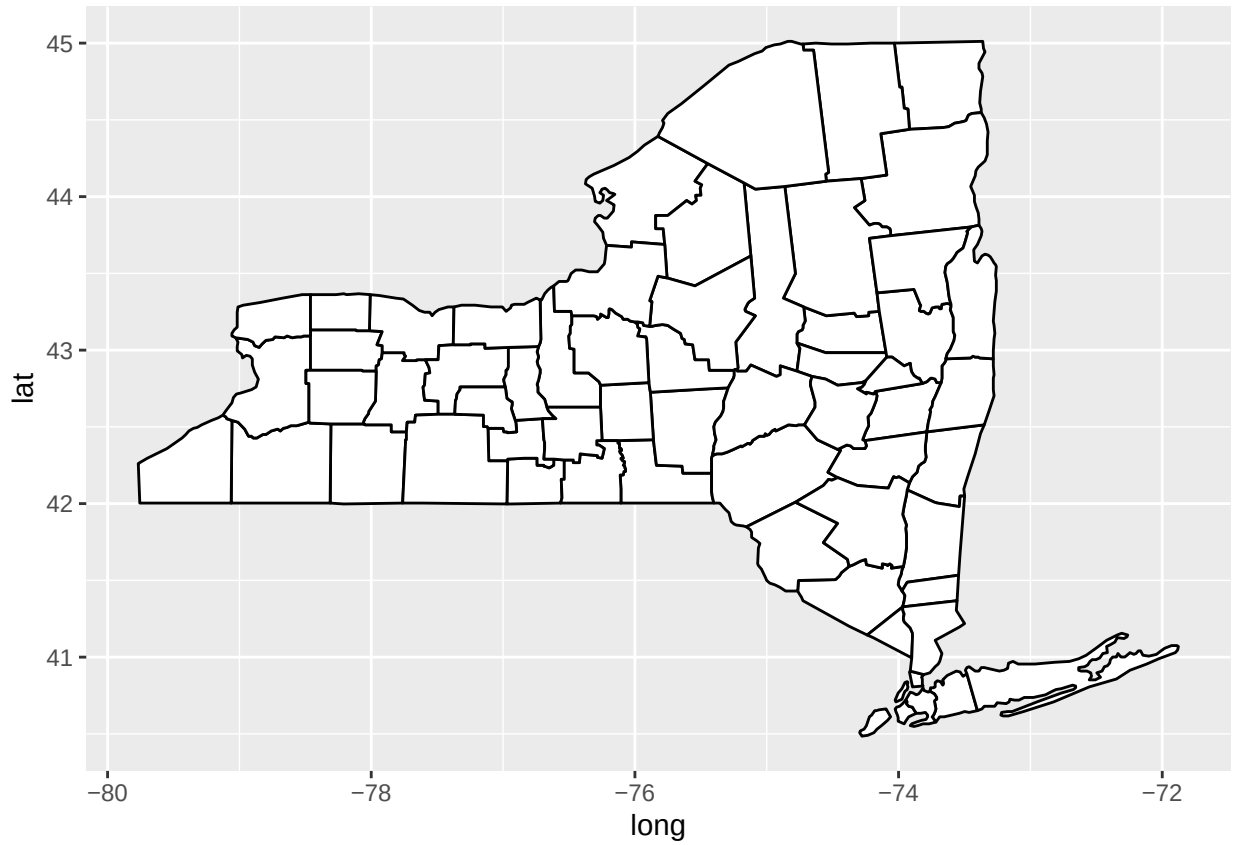

3. Just as in step 2, the map you just created fills in the area of each county in black while outlining it with a thin white lines. Use the **fill=** and **color=** commands inside the call to **geom_polygon( )** to reverse the color scheme.

```
ggplot(ny_counties) + aes(long,lat, group=group) + geom_polygon(fill = "black", color = "white")
```

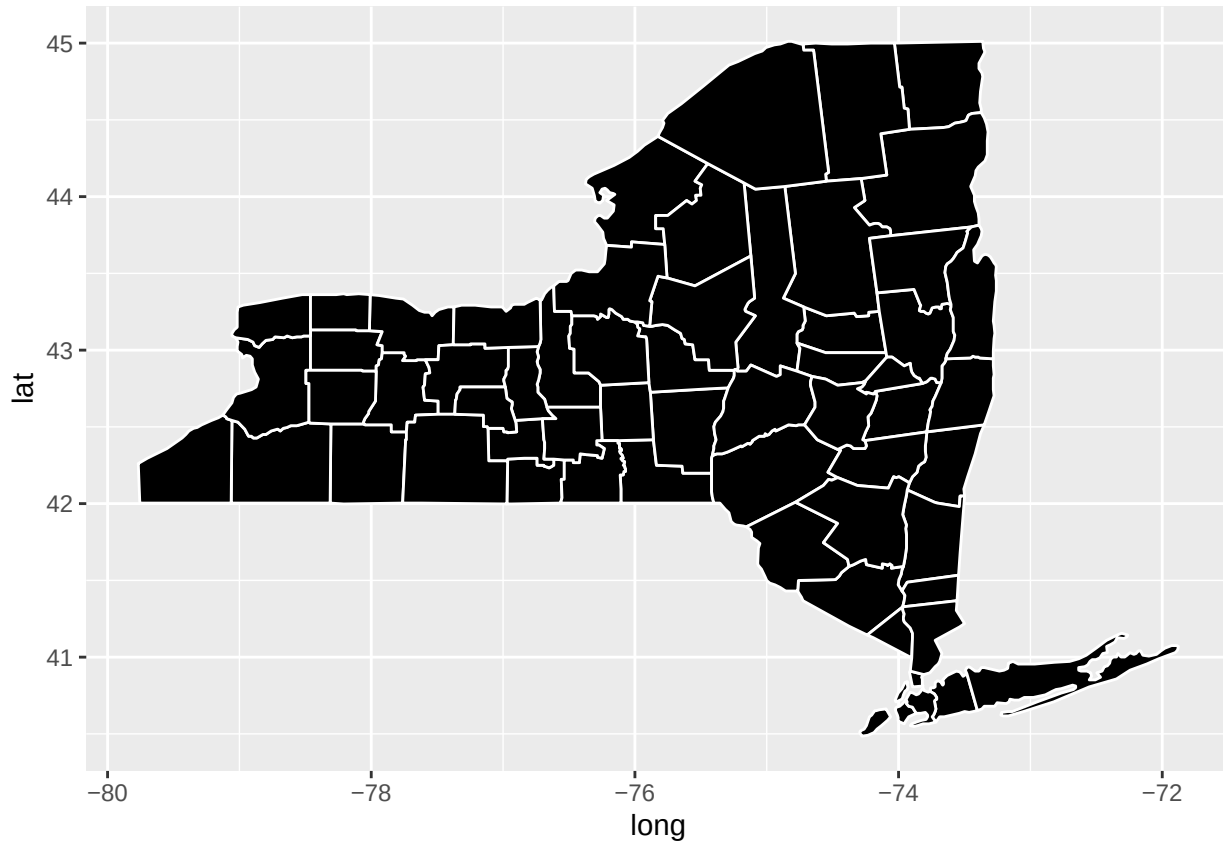

4. Run `head(ny_counties)` to verify how the county outline data looks

```
head(ny_counties)
```

```
##        long      lat group order   region subregion
## 1 -73.78550 42.46763     1     1 new york    albany
## 2 -74.25533 42.41034     1     2 new york    albany
## 3 -74.25533 42.41034     1     3 new york    albany
## 4 -74.27252 42.41607     1     4 new york    albany
## 5 -74.24960 42.46763     1     5 new york    albany
## 6 -74.22668 42.50774     1     6 new york    albany
```

5. Make a copy of your code from step 3 and add the following subcommand to your ggplot( ) call (don t forget to put a plus sign after the **geom_polygon( )** statement to tell R that you are continuing to build the command): `coord_map(projection = "mercator")` In what way is the map different from the previous map. Be prepared to explain what a Mercator projection is.

```
ggplot(ny_counties) + aes(long,lat, group=group) + geom_polygon(fill = "black", color = "white") +
  coord_map(projection = "mercator")
```

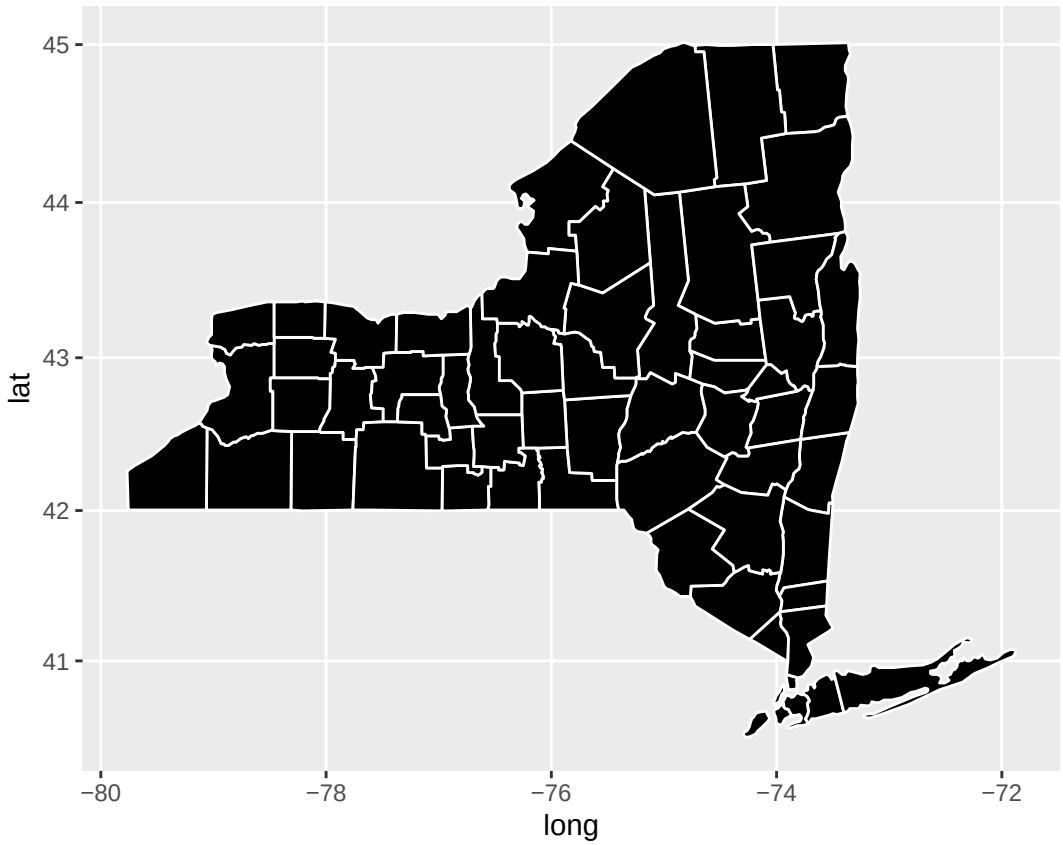


```
#This map is more condensed, fitting the map onto a more square grid
#A mercator projection depicts the earth as a cylinder
```

6. Grab a copy of the nyData.csv data set from: https://intro-datascience.s3.us-east-2.amazonaws.com/nyData.csv Read that data set into R with **read_csv()**. This will require you have installed and libraried the **tidyverse** package. The next step assumes that you have named the resulting data frame ** nyData. **

```
library('tidyverse')
```

```
## -- Attaching core tidyverse packages ------------------------ tidyverse 2.0.0 --
## v dplyr     1.1.4     v readr     2.1.5
## v forcats   1.0.0     v stringr   1.5.1
## v lubridate 1.9.4     v tibble    3.2.1
## v purrr     1.0.2     v tidyr     1.3.1
## -- Conflicts ------------------------------------------ tidyverse_conflicts() --
## x dplyr::filter() masks stats::filter()
## x dplyr::lag()    masks stats::lag()
## x purrr::map()    masks maps::map()
## i Use the conflicted package (<http://conflicted.r-lib.org/>) to force all conflicts to become errors
```

```
nyData <- read_csv('https://intro-datascience.s3.us-east-2.amazonaws.com/nyData.csv')
```

```
## Rows: 62 Columns: 5
```

```
## -- Column specification --------------------------------------------------------
## Delimiter: ","
## chr (1): county
## num (4): pop2010, pop2000, sqMiles, popDen
##
## i Use `spec()` to retrieve the full column specification for this data.
## i Specify the column types or set `show_col_types = FALSE` to quiet this message.
```

7. Next, merge your **ny_counties** data from the first set of questions with your new **nyData** data frame, with this code: `mergeNY <- merge(ny_counties,nyData,all.x=TRUE,by.x="subregion",by.y="county")`

```r
mergeNY <- merge(ny_counties,nyData,all.x=TRUE,by.x="subregion",by.y="county")
```

8. Run `head(mergeNY)` to verify how the merged data looks.

```r
head(mergeNY)
```

```
##   subregion      long      lat group order   region pop2010 pop2000 sqMiles
## 1    albany -73.78550 42.46763     1     1 new york  304204  294565   522.8
## 2    albany -74.25533 42.41034     1     2 new york  304204  294565   522.8
## 3    albany -74.25533 42.41034     1     3 new york  304204  294565   522.8
## 4    albany -74.27252 42.41607     1     4 new york  304204  294565   522.8
## 5    albany -74.24960 42.46763     1     5 new york  304204  294565   522.8
## 6    albany -74.22668 42.50774     1     6 new york  304204  294565   522.8
##   popDen
## 1 581.87
## 2 581.87
## 3 581.87
## 4 581.87
## 5 581.87
## 6 581.87
```

9. Now drive the fill color inside each county by adding the **fill** aesthetic inside of your **geom_polygon( )** subcommand (fill based on **pop2000**).

```r
ggplot(ny_counties) + aes(long,lat, group=group) + geom_polygon(fill = mergeNY$pop2000 , color = "white
```

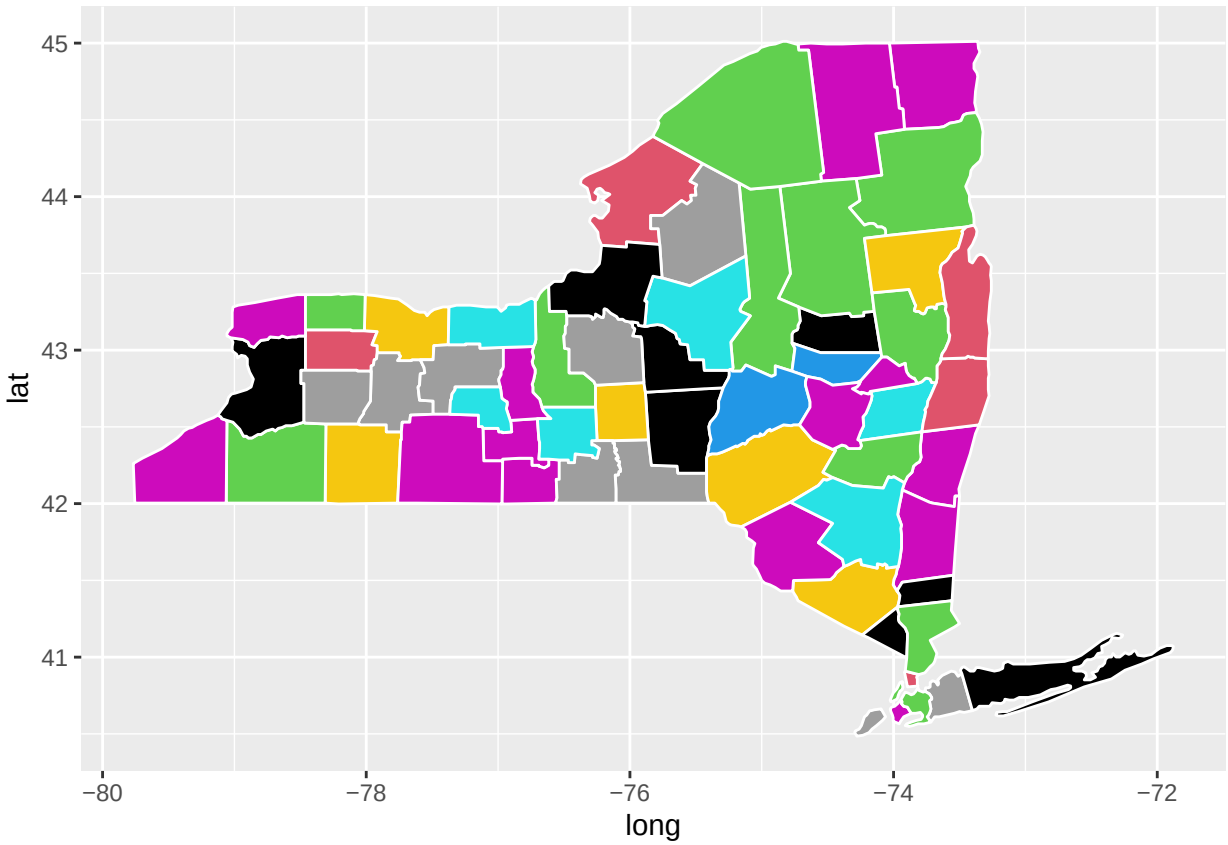

10. Create a barchart using ggplot (each county is a bar, the height should be based on **pop2000**)

```
ggplot(mergeNY) + aes(subregion, pop2000) + geom_col(aes(fill = pop2000)) +
  theme(axis.text.x = element_text(angle = 90))
```

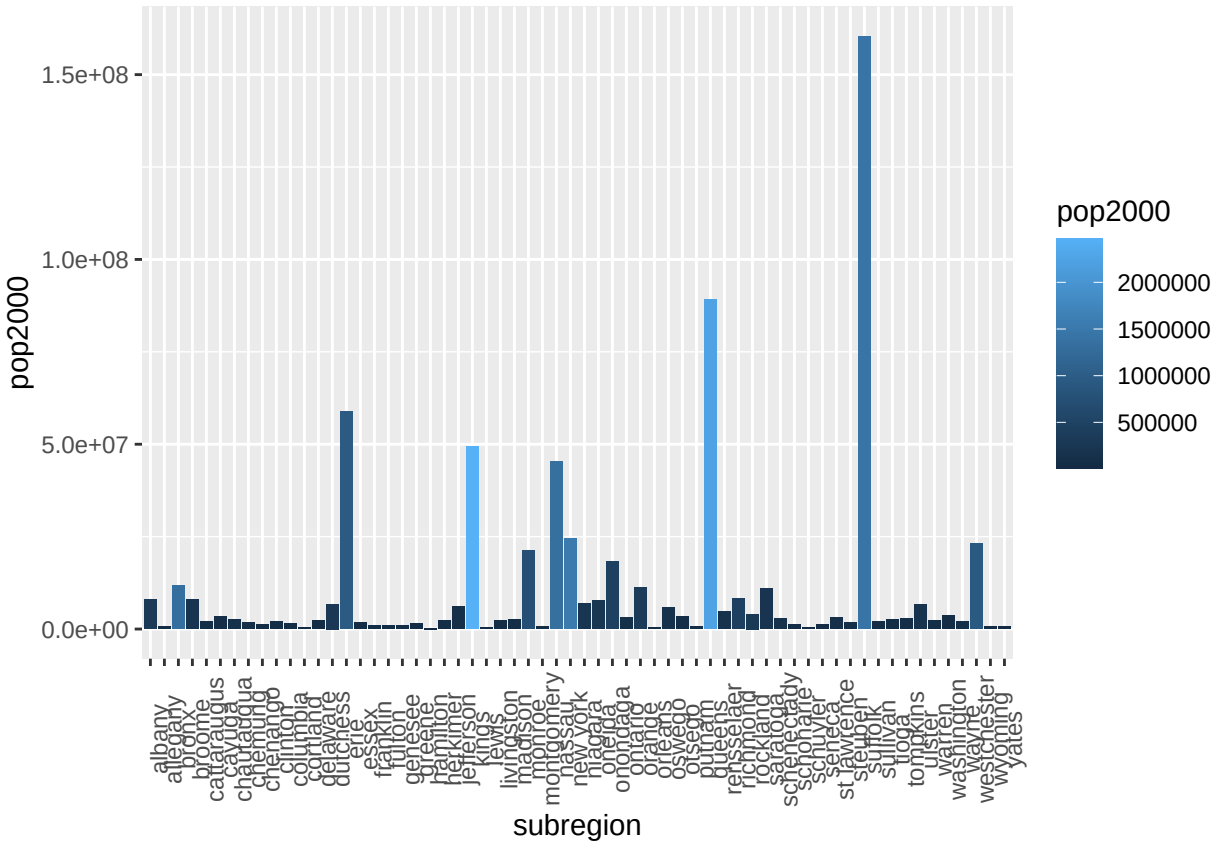

11. In a comment, compare the visualization in 9 & 10. Is one easier to understand (you must explain why).

```
#visualization 9 is good for understanding geographical data
#but without a legend, it is hard to understand what it is representing.
#visualization 10 makes the number analysis in better perspective
#but there is too much data to be able to use this for analysis
#the range in numbers allows only for surface level analysis like
#identifying outliers.
#For this reason I believe visualization 10 is easier to understand,
#unless a legend gets added to visualization 9.
```